PyQGIS - plugins de interface

Disciplina: Programação aplicada à engenharia cartográfica

Maurício C. M. de Paulo - D.Sc.

1 de abril de 2026

PyQGIS - plugins de interface

QGIS Plugin Builder

Plugin Builder: Passo a passo

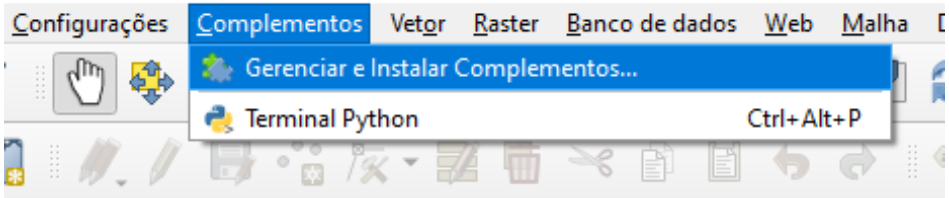

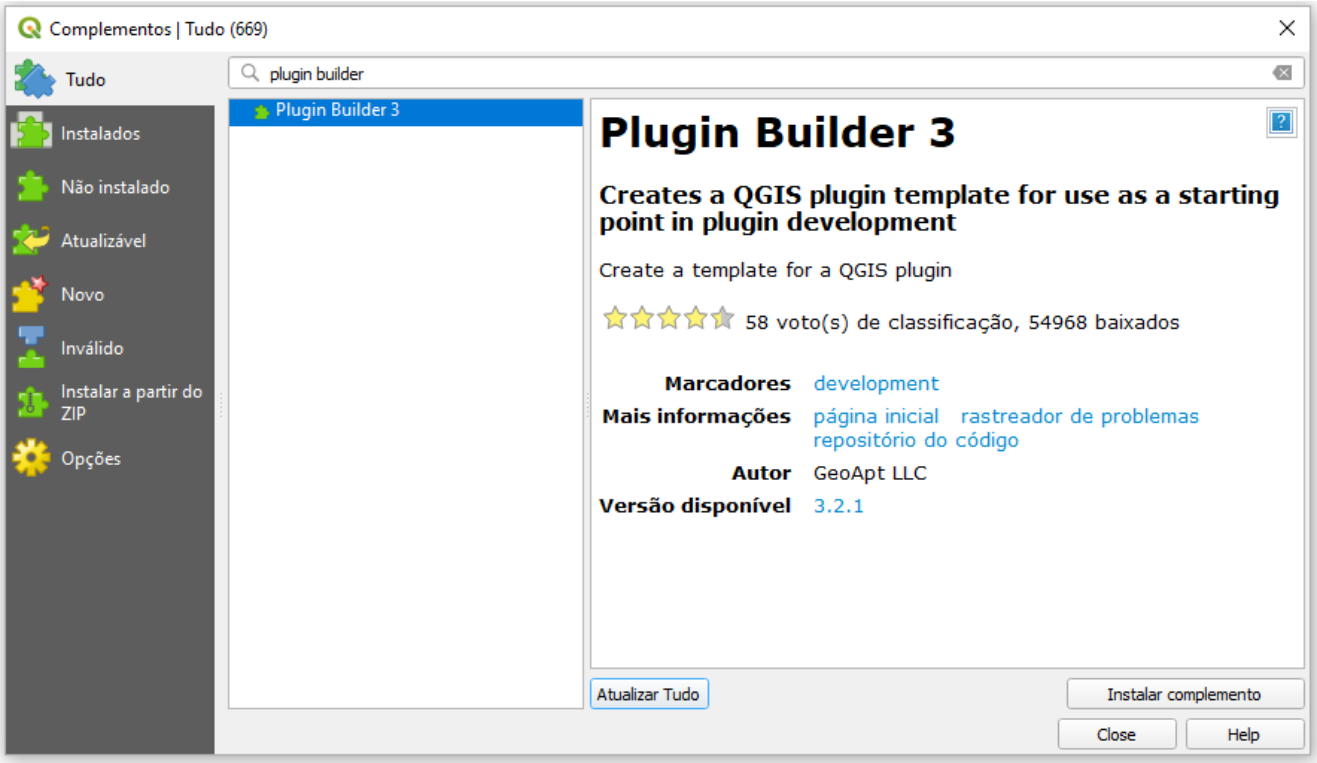

Plugin Builder: Passo a passo

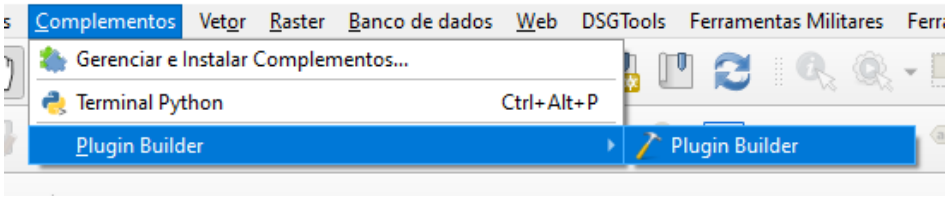

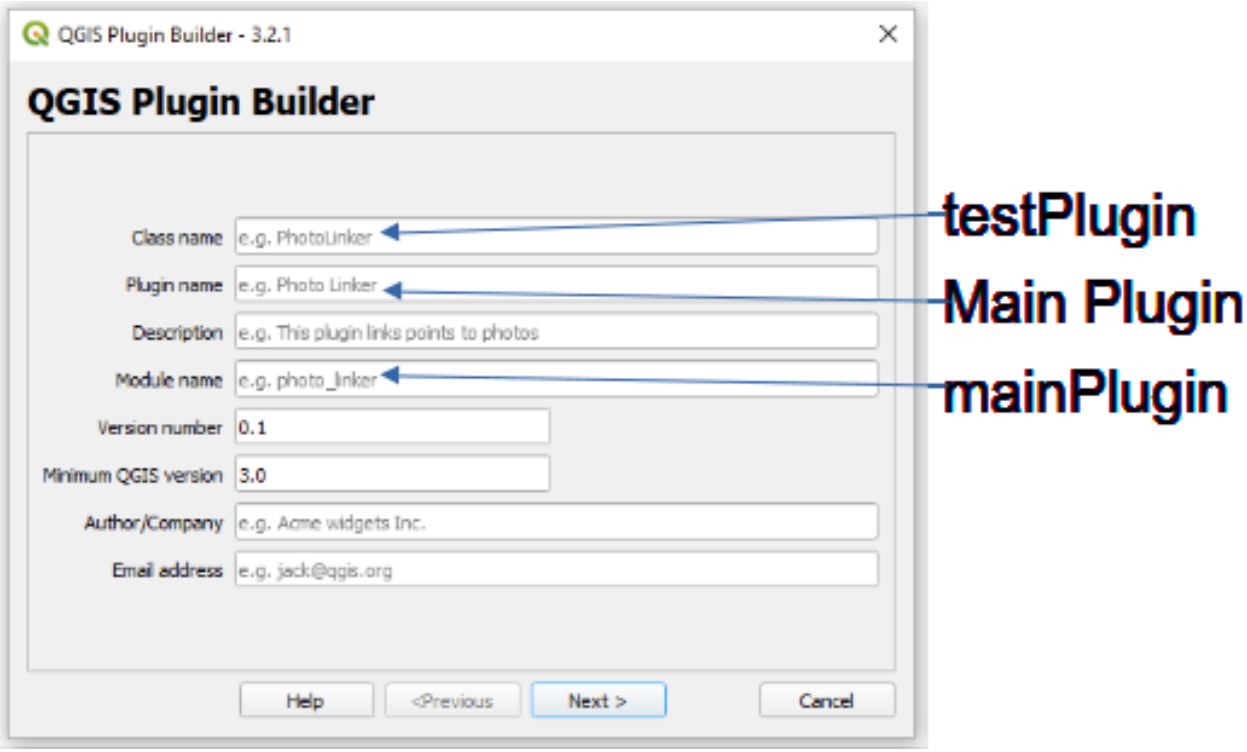

Plugin Builder: Passo a passo

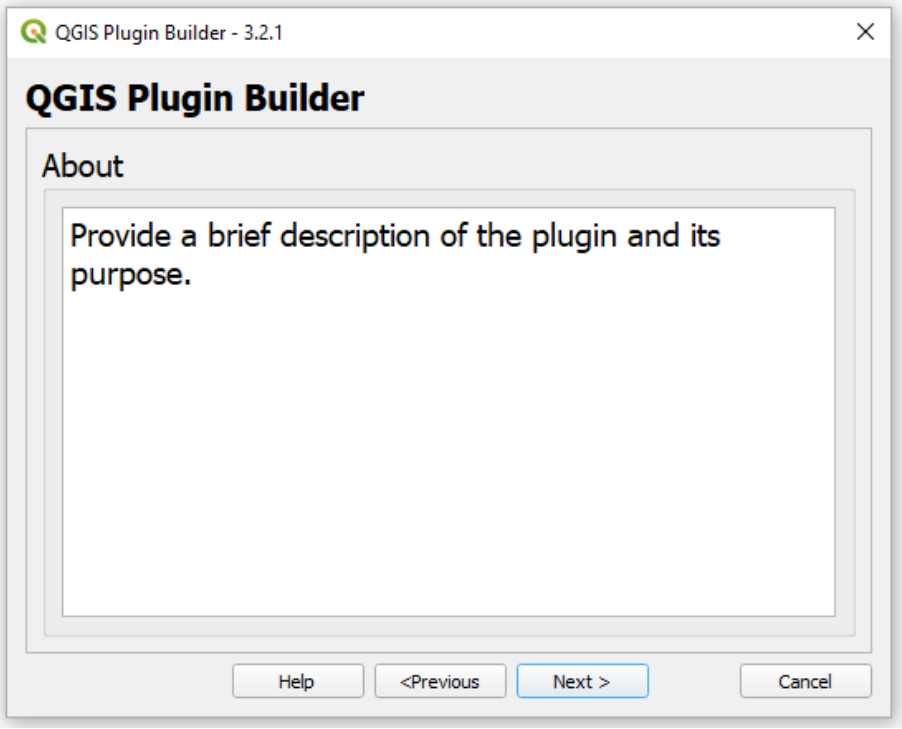

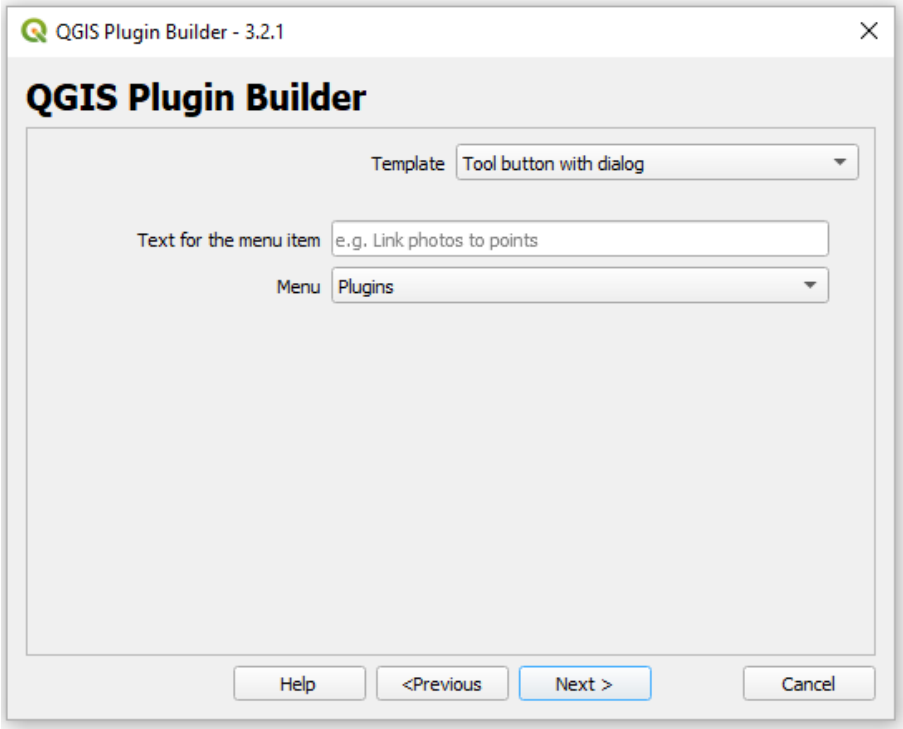

Plugin Builder: Passo a passo

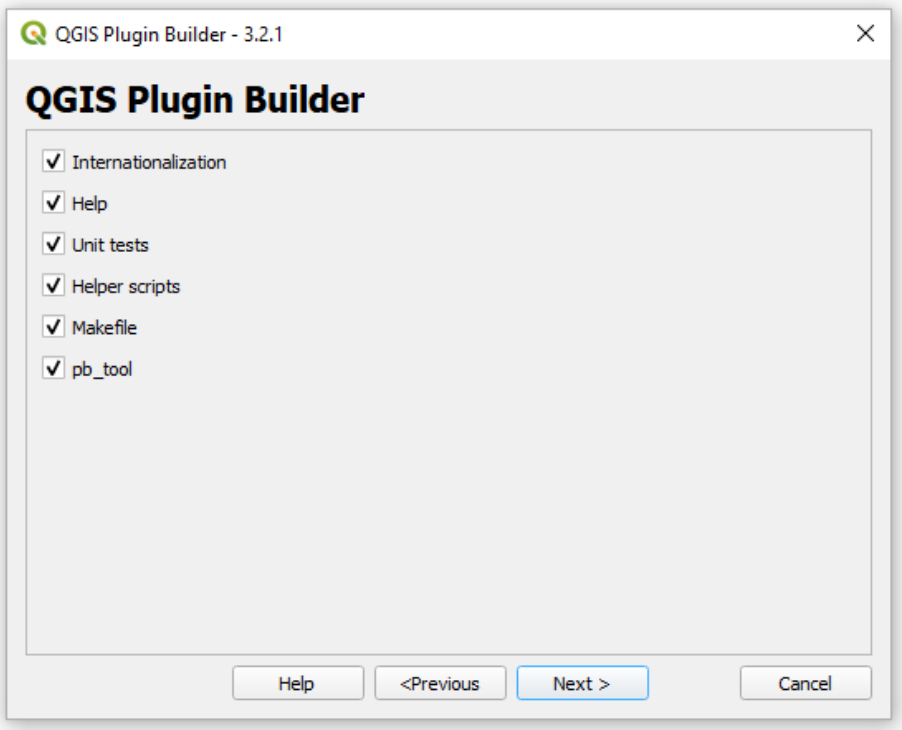

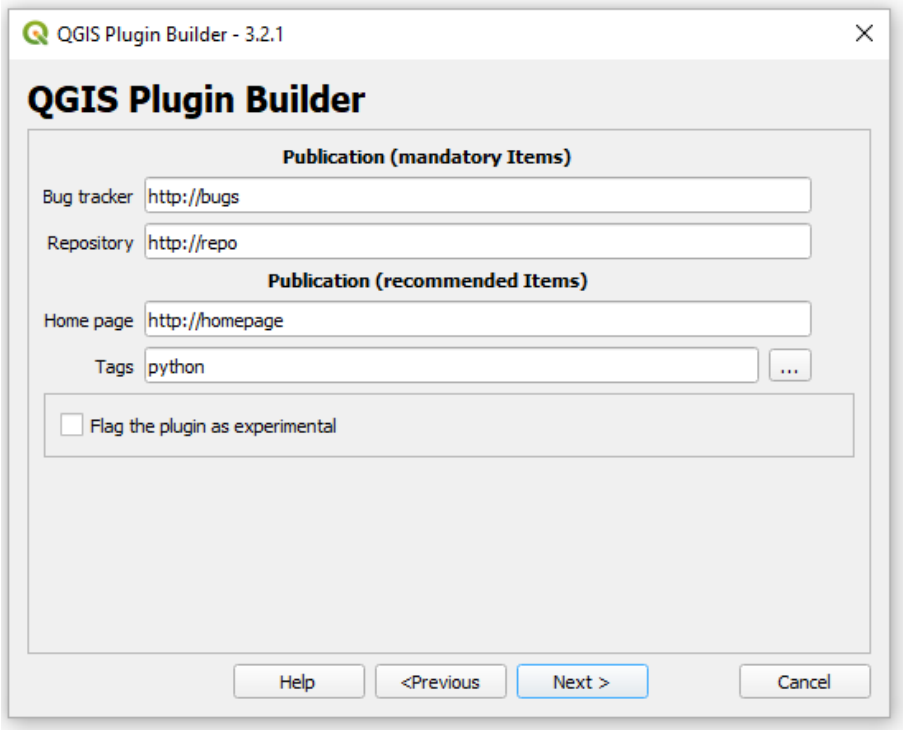

Plugin Builder: Onde salvar?

- Onde salvar?
- LINUX
- /home/username/.local/share/QGIS/QGIS3/profiles/default/python/plugins/
- WINDOWS
- C:\Users\<user>\AppData\Roaming\QGIS\QGIS3\profiles\default\python\plugins\

```
from qgis.core import QgsApplication
print(QgsApplication.qgisSettingsDirPath())
```

Estrutura básica de um plugin QGIS

Principais componentes de um plugin PyQGIS:

- Classe principal do plugin
- Interface do QGIS (`iface`)
- Arquivo de metadados
- Interface gráfica (Qt / .ui)

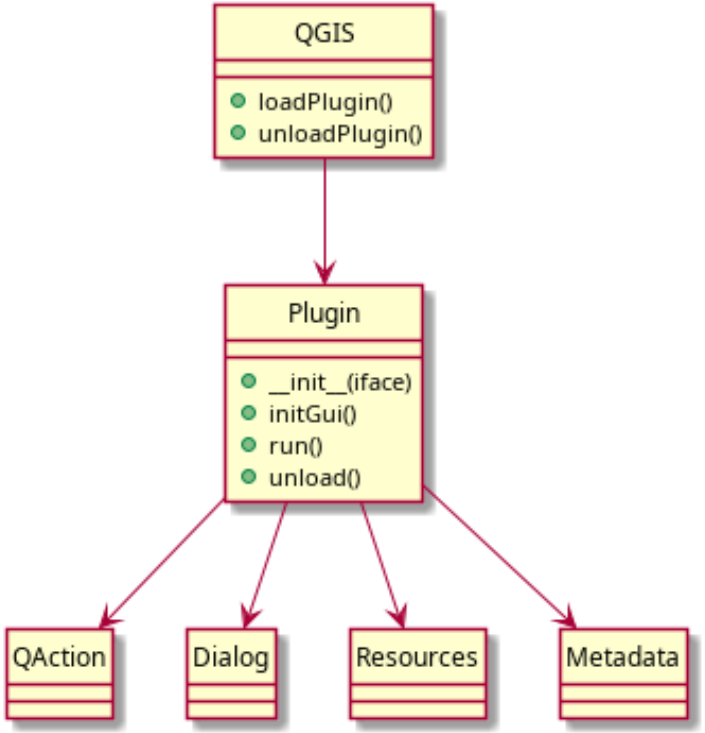

Criação de Plugin: Estrutura básica do plugin

- __init__.py = The starting point of the plugin. It has to have the classFactory() method and may have any other initialisation code.
- mainPlugin.py = The main working code of the plugin. Contains all the information about the actions of the plugin and the main code.
- resources.qrc = The .xml document created by Qt Designer. Contains relative paths to resources of the forms.
- resources.py = The translation of the .qrc file described above to Python.
- form.ui = The GUI created by Qt Designer.
- form.py = The translation of the form.ui described above to Python.
- metadata.txt = Contains general info, version, name and some other metadata used by plugins website and plugin infrastructure.

`https://docs.qgis.org/3.34/en/docs/pyqgis_developer_cookbook/plugins/plugins.html`

PyQGIS - plugins de interface

Depuração remota no QGIS

Depuração de plugins QGIS — Visão geral

Depurar plugins QGIS pode ser desafiador porque o código roda **dentro do QGIS**.

Estratégia:

- Usar o **VSCodium** como debugger
- Conectar ao processo do QGIS
- Inserir breakpoints no código do plugin

Ferramenta principal:

- `debugpy` (debugger Python)

Passo 1 — Inserir debugpy no plugin

Adicione no código do plugin (ex: no `initGui()` ou início do run):

```
import debugpy

debugpy.listen(("localhost", 5678))
print("Aguardando debugger...")

debugpy.wait_for_client()
print("Debugger conectado!")
```

Efeito:

- QGIS pausa execução
- Aguarda conexão do VSCodium

Passo 2 — Configurar VSCodium

Ao iniciar a depuração, escolha "Remote attach".

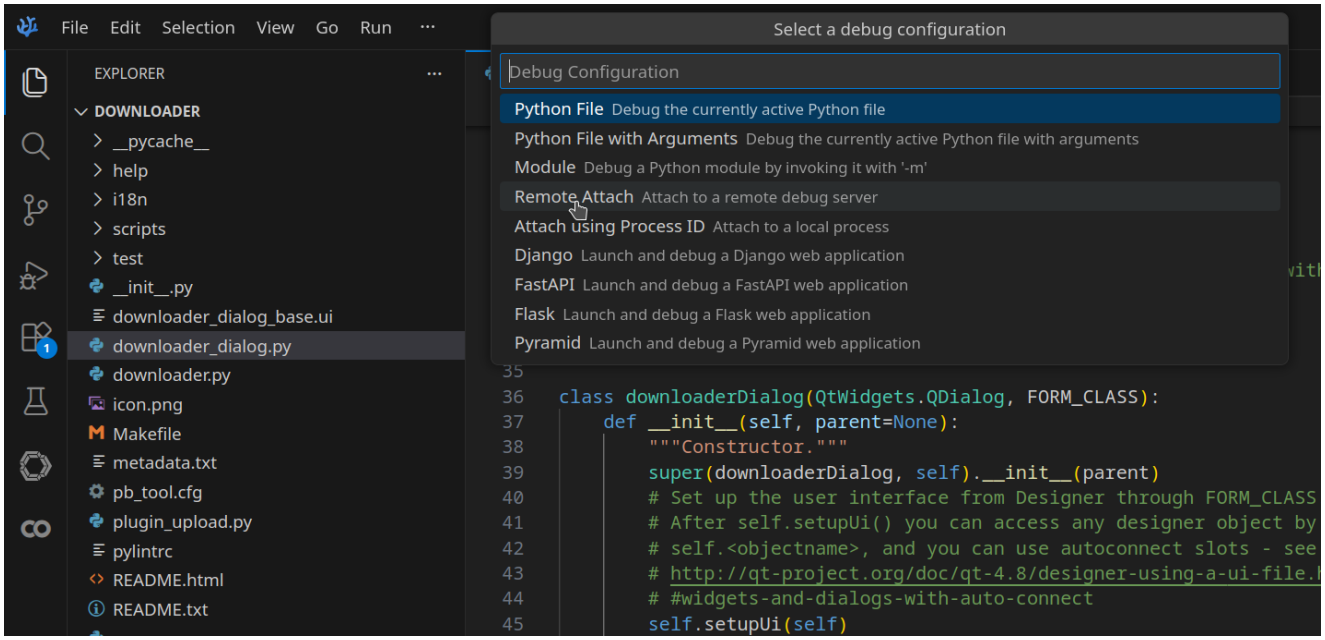

Depois:

- Abrir o plugin no QGIS
- Executar a depuração.

Passo 3 — Depuração na prática

Fluxo de uso:

1. Abrir QGIS
2. Executar o plugin
3. QGIS pausa em `wait_for_client()`
4. Iniciar debug no VSCodium
5. Continuar execução

Agora você pode:

- Colocar breakpoints
- Inspecionar variáveis
- Executar passo a passo

Dica:
Remova os comandos antes de publicar o plugin.